Smart Road Early Warning System

A Machine Learning Approach to Road Safety

Guided By: Mrs. Neethu K *Asst. Professor, Dept. of AI & DS*

Group Members: * Muhammed Shibil K P (SPT23AD034) * Shehruz Muhammed C S (SPT23AD043) * Adithya Chandran (SPT23AD006) * Akhil P (SPT23AD009)

Contents

1. Introduction
2. Motivation
3. Objectives
4. Scope & Significance
5. Literature Review
6. Block Diagram
7. Methodology
8. Technical Feasibility
9. Components & Tech Stack
10. Work Progress
11. Future Scope

12. Application Gallery

13. Bibliography

1. Introduction

The **Smart Road Early Warning System** is an innovative mobile application designed to enhance driver safety on hazardous road segments.

- **Core Function**: Detects sharp curves and road anomalies in real-time.
- **Technology**: Utilizes standard smartphone sensors (GPS, Accelerometer, Gyroscope) combined with Machine Learning.
- **Interaction**: Provides immediate haptic (vibration) and visual alerts to the driver *before* they enter a danger zone.
- **Goal**: To reduce accidents caused by speeding on unfamiliar or curved roads.

2. Motivation

- **High Accident Rates**: Curves and hilly terrains are hotspots for vehicle rollovers and loss-of-control accidents.
- **Cost Factor**: Traditional Advanced Driver Assistance Systems (ADAS) require expensive, dedicated hardware (LiDAR, Radar).
- **Accessibility**: Almost every driver owns a smartphone, making this a zero-cost safety upgrade for the masses.
- **Data-Driven**: Leveraging AI to learn from driving patterns rather than static rules improves accuracy over time.

3. Objectives

- To develop a **cost-effective** driver warning system using readily available smartphone hardware.
- To implement **Machine Learning algorithms** (TensorFlow Lite) on the edge for real-time curve severity classification.
- To ensure **low-latency alerts** that give drivers sufficient reaction time.
- To create a **distraction-free interface** that relies primarily on haptic feedback.

4. Scope & Significance

- **Target Audience**: Daily commuters, truck fleet operators, and tourists navigating unfamiliar routes.
- **Scalability**: The software-only approach allows for rapid deployment to millions of devices without manufacturing overhead.
- **Infrastructure Diagnostic**: Aggregated data can help road authorities identify dangerous spots that need physical signage or repair.

5. Literature Review (Part 1)

Paper / Study	Key Insight
1. Low-cost realtime horizontal curve detection (IEEE 2016)	Used accelerometer/gyro to model curves with 93.8% accuracy, proving low-cost sensors are viable.
2. Evaluation of curve speed warning system (CDC 2022)	Found that dynamic warnings reduce curve entry speeds by 4-7 mph, significantly lowering rollover risk.
3. Vibrotactile Patterns for ADAS (ResearchGate)	Haptic feedback (vibration) resulted in 20% faster reaction times compared to visual-only alerts.
4. Estimation of Road Curvature from GPS (Wang et al.)	Proposed mathematical models to derive curve radius purely from raw GPS coordinates.
5. Smartphone-based driver behavior profiling (IEEE Access)	Used sensor fusion to classify driving styles (Aggressive vs. Safe) with 85% accuracy.

Literature Review (Part 2)

Paper / Study	Key Insight
6. Multi-Sensor Fusion for Lane Detection (NIH)	Combined camera and steering angle data to improve detection in sharp curves where vision fails.
7. Vehicle Trajectory Estimation (ResearchGate)	Used Kalman Filtering on smartphone data to predict future vehicle position and detect lane changes.
8. Mobile Mapping Systems for Curve Identification	Compared dedicated mapping hardware vs. smartphones; smartphones showed <5% error margin.
9. Driving Style Recognition (Johnson & Trivedi)	Analyzed dynamic time warping (DTW) on sensor streams to detect anomalous events like swerving.

6. Block Diagram

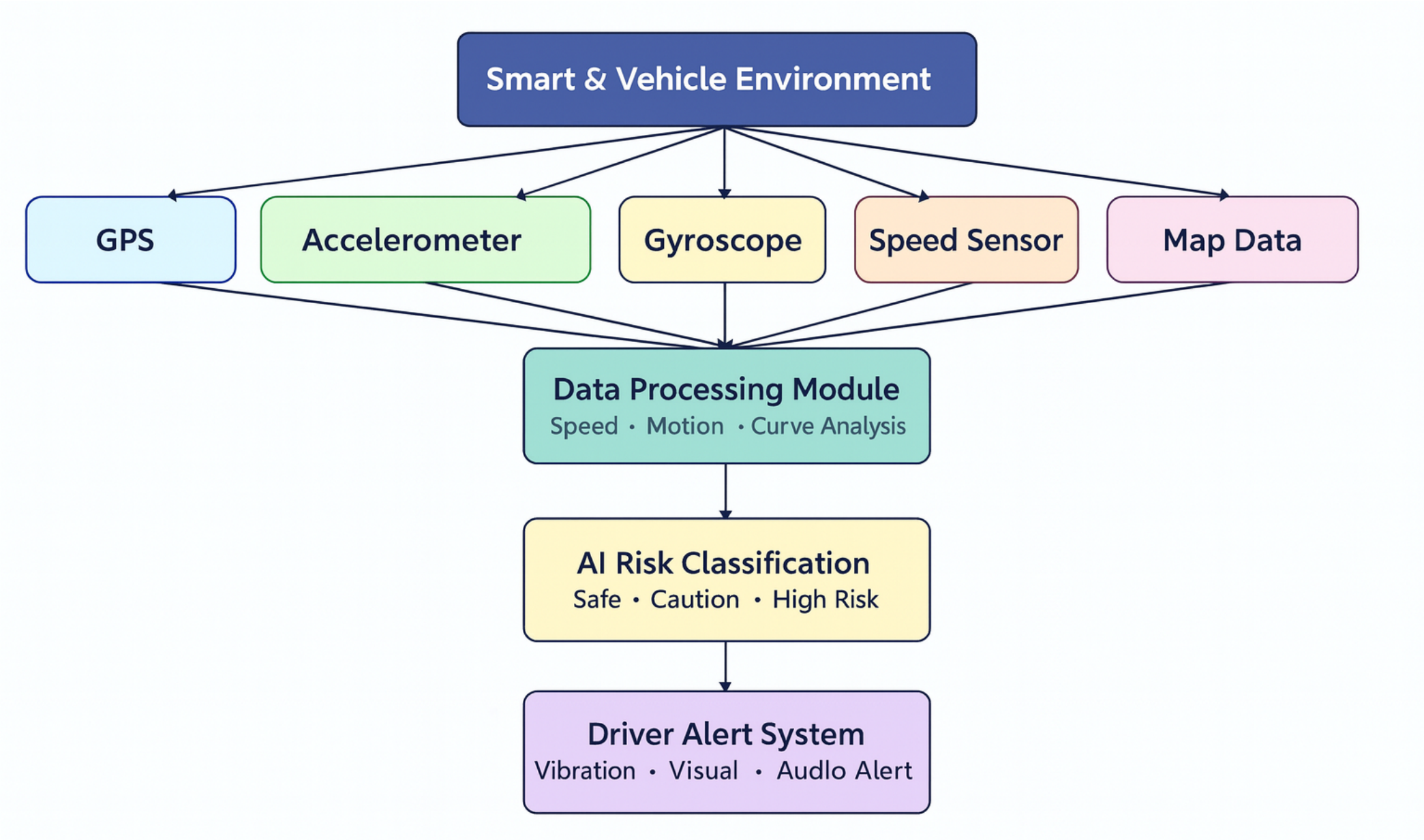

1. **Input Layer**: Captures raw sensor data at 10Hz.

2. **Processing Layer**: Computes features (speed, bearing change, lateral acceleration) and runs the Neural Network.
3. **Output Layer**: Triggers vibration patterns based on severity (Mild, Urgent, Hectic).

7. Methodology (App Working)

1. **Trip Initiation**: Driver launches the app and inputs the destination (optional). The app begins monitoring in the background.
2. **Sensor Data Acquisition**: The app continuously reads data from the **Accelerometer**, **Gyroscope**, and **GPS** sensors at a frequency of 10Hz.
3. **Real-time Feature Extraction**: Raw sensor data is buffered into 3-second sliding windows. Key features (speed, bearing change, lateral g-force) are computed locally on the device.
4. **On-Device Inference**: The extracted features are fed into the embedded **TensorFlow Lite model**, which classifies the current driving state (Safe, Mild Curve, Sharp Curve).

   Alert Generation: If a dangerous curve is detected:

   - **Haptic Engine** triggers a specific vibration pattern.
   - **Visual UI** flashes a warning color (Orange/Red) on the screen.

6. **Feedback Loop**: The system continues to monitor for the next window, ensuring continuous protection throughout the drive.

8. Data Simulation & Visualization (Current Progress)

As part of the **Preprocessing Stage**, we have successfully simulated driving scenarios to validate our feature extraction logic.

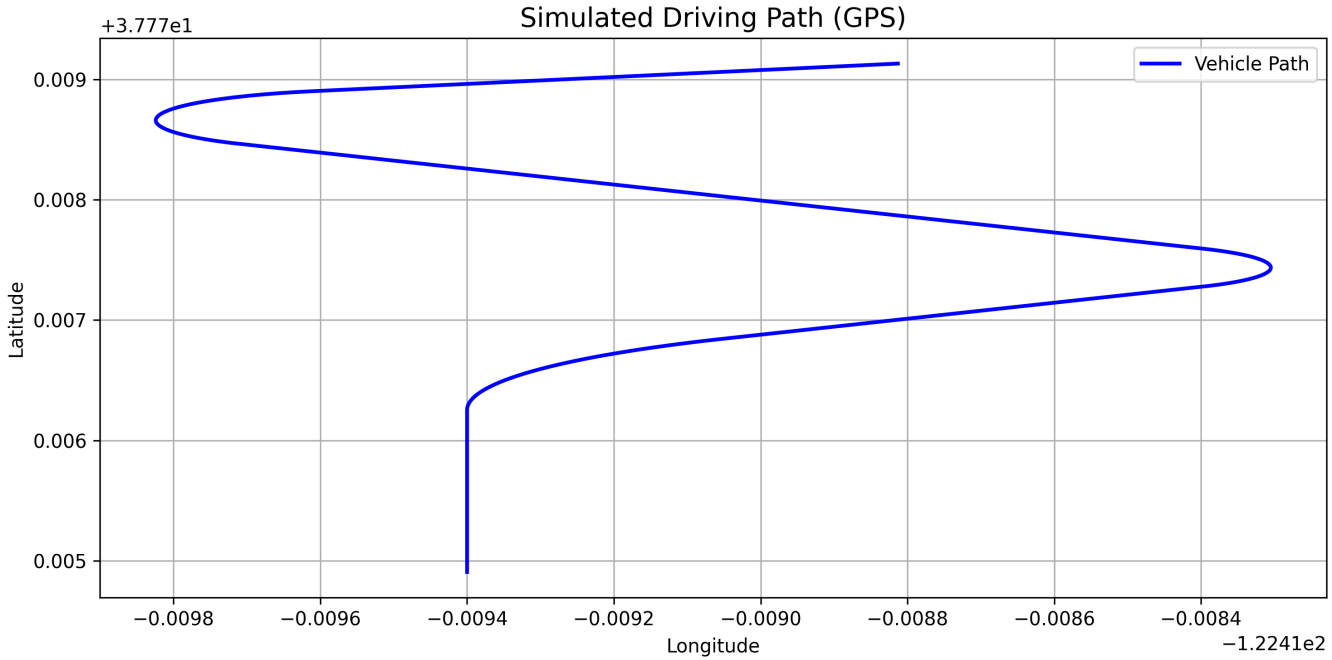
Simulated Driving Path (GPS)
+3.777e1
Vehicle Path
0.009
0.008
0.007
0.006
0.005
Latitude
−0.0098
−0.0096
−0.0094
−0.0092
−0.0090
−0.0088
−0.0086
−0.0084
Longitude
−1.2241e2

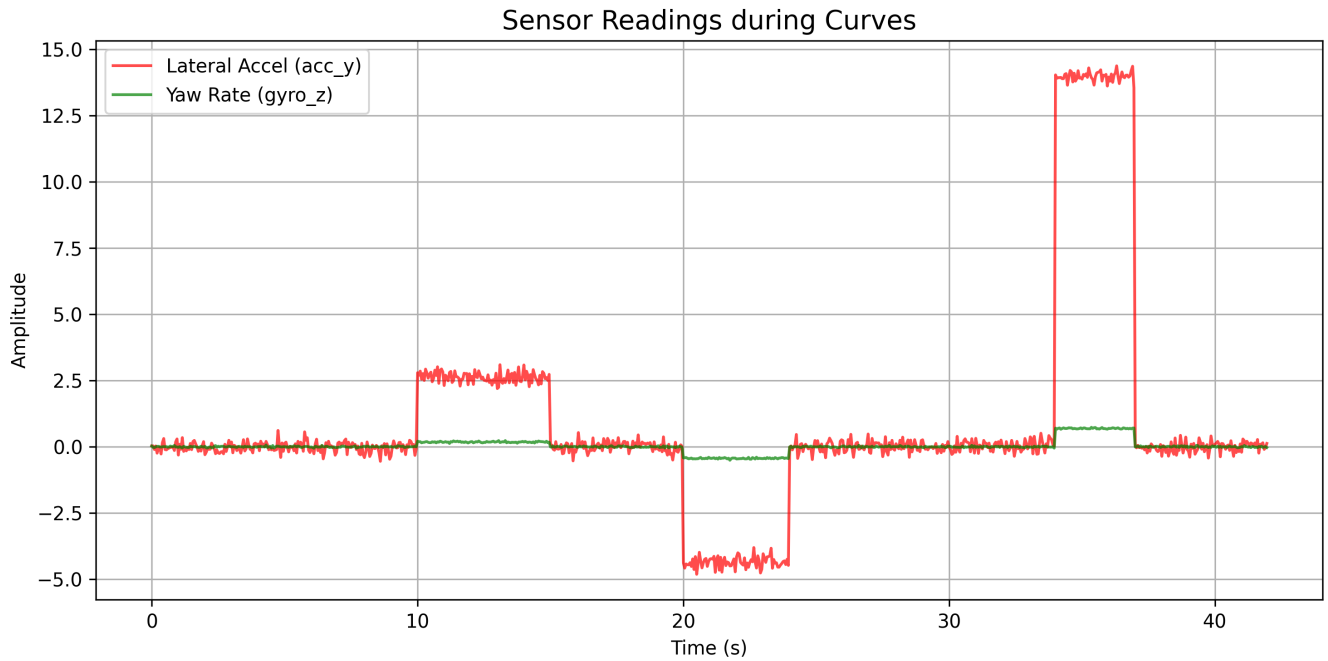
Sensor Readings during Curves
Lateral Accel (acc_y)
Yaw Rate (gyro_z)
15.0
12.5
10.0
7.5
5.0
2.5
0.0
−2.5
−5.0
Amplitude
0
10
20
30
40
Time (s)

- **Top Graph**: Simulated GPS path showing both straight segments and sharp curves.
- **Bottom Graph**: Corresponding sensor readings. Note the spikes in **Lateral Acceleration (Red)** and **Yaw Rate (Green)** during curve events, which our algorithm detects.

8. Technical Feasibility

- **Hardware Agnostic**: Runs on any Android device with standard sensors (Android 8.0+).
- **Edge Computing**: All processing happens locally on the phone. No internet connection is required for the core safety features, ensuring reliability in remote areas.
- **Battery Efficiency**: Optimized sensor polling and lightweight model inference minimize power drain.

9. Components & Tech Stack

Language:

- **Kotlin** (Android App Development)
- **Python** (Data Analysis & Model Training)

Libraries:

- **TensorFlow Lite**: On-device Machine Learning.
- **Google Maps SDK**: Route visualization.
- **Pandas/Scikit-Learn**: Data processing pipeline.

- **Tools**: Android Studio, Jupyter Notebook, Git.

10. Work Progress (Status: Preprocessing Complete)

[x] **Phase 1: Research (Completed)**

- Literature survey conducted (9+ papers).
- Key features for curve detection identified (Speed, Yaw Rate, Centripetal Accel).

[x] **Phase 2: Data Preprocessing (Completed)**

- **Simulation Engine**: Developed `simulate.py` to generate synthetic driving traces.
- **Labeling Logic**: Rule-based curvature calculation implemented.
- **Analysis**: Sensor noise modeling and filtering applied.

[ ] **Phase 3: Model Training (Upcoming)**

- Neural Network architecture design.
- Training on simulated dataset.

[ ] **Phase 4: App Integration (Upcoming)**

- Real-time inference on Android.

11. Bibliography

1. *Low-cost realtime horizontal curve detection using inertial sensors of a smartphone*. IEEE VTC 2016.
2. Simeonov et al., 2022. *Evaluation of advanced curve speed warning system*.
3. *Vibrotactile Patterns for Smartphone-Based ADAS Warnings*. ResearchGate.
4. *Estimation of Road Centerline Curvature from Raw GPS Data*. ResearchGate.
5. *Smartphone-based driver behavior analysis and profiling*. IEEE Access.
6. *Multi-Sensor Fusion for Lane Detection in Curves*. NIH.
7. *Vehicle Trajectory Estimation using Smartphone Sensors*. ResearchGate.
8. *Mobile Mapping Systems (MMS) for Curve Identification*.
9. Johnson & Trivedi. *Driving Style Recognition Using a Smartphone as a Sensor Platform*.
10. Documentation: *TensorFlow Lite Guide*, *Android Developer Docs*.

Created for ADD 334 - Mini Project Zeroth Review